FINAL PLAT
OF

"SEVILLE PARCEL 3"

BEING A RESUBDIVISION OF A PORTION OF "SEVILLE" TRACT "H"
AS RECORDED IN BOOK 553, PAGE 15 , MARICOPA COUNTY RECORDS, LOCATED IN
A PORTION OF SECTION 23, TOWNSHIP 2 SOUTH, RANGE 6 EAST
OF THE GILA AND SALT RIVER MERIDIAN, MARICOPA COUNTY, ARIZONA.

LEGAL DESCRIPTION

THAT PART OF THE SOUTH HALF OF THE SOUTHWEST QUARTER AND THE SOUTH HALF OF THE SOUTHEAST QUARTER OF SECTION 23, TOWNSHIP 2 SOUTH, RANGE 6 EAST, OF THE GILA AND SALT RIVER MERIDIAN, MARICOPA COUNTY, ARIZONA, MORE PARTICULARLY DESCRIBED AS FOLLOWS:

COMMENCING AT THE SOUTHWEST CORNER OF SAID SECTION 23;

THENCE NORTH 00°26'07" WEST, ALONG THE WEST LINE OF THE SOUTHWEST QUARTER OF SAID SECTION 23, A DISTANCE OF 1,333.92 FEET TO THE NORTHWEST CORNER OF THE SOUTH HALF OF THE SOUTHWEST QUARTER OF SAID SECTION 23;

THENCE NORTH 89°51'24" EAST, ALONG THE NORTH LINE OF THE SOUTH HALF OF THE SOUTHWEST QUARTER OF SAID SECTION 23, A DISTANCE OF 1,979.69 FEET TO THE TRUE POINT OF BEGINNING;

THENCE CONTINUING NORTH 89°51'24" EAST, ALONG SAID NORTH LINE, A DISTANCE OF 648.78 FEET;

THENCE SOUTH 00°08'36" EAST, A DISTANCE OF 175.65 FEET;

THENCE SOUTH 76°59'50" EAST, A DISTANCE OF 10.90 FEET TO THE BEGINNING OF A TANGENT CURVE OF 300.00 FOOT RADIUS, CONCAVE NORTHEASTERLY;

THENCE SOUTHEASTERLY, ALONG SAID CURVE, THROUGH A CENTRAL ANGLE OF 13°09'05", A DISTANCE OF 68.86 FEET;

THENCE NORTH 89°51'05" EAST, A DISTANCE OF 513.47 FEET TO THE BEGINNING OF A TANGENT CURVE OF 200.00 FOOT RADIUS, CONCAVE SOUTHWESTERLY;

THENCE SOUTHEASTERLY, ALONG SAID CURVE, THROUGH A CENTRAL ANGLE OF 82°24'21", A DISTANCE OF 287.65 FEET;

THENCE SOUTH 07°44'34" EAST, A DISTANCE OF 150.26 FEET TO THE BEGINNING OF A TANGENT CURVE OF 275.00 FOOT RADIUS, CONCAVE WESTERLY;

THENCE SOUTHERLY, ALONG SAID CURVE, THROUGH A CENTRAL ANGLE OF 13°48'37", A DISTANCE OF 66.28 FEET;

THENCE SOUTH 06°04'03" WEST, A DISTANCE OF 172.32 FEET TO THE BEGINNING OF A TANGENT CURVE OF 400.00 FOOT RADIUS, CONCAVE NORTHWESTERLY;

THENCE SOUTHWESTERLY, ALONG SAID CURVE, THROUGH A CENTRAL ANGLE OF 10°00'42", A DISTANCE OF 69.89 FEET;

THENCE SOUTH 16°04'45" WEST, A DISTANCE OF 67.45 FEET TO A POINT ON A 500.00 FOOT RADIUS NON-TANGENT CURVE, WHOSE CENTER BEARS SOUTH 16°04'45" WEST;

THENCE WESTERLY, ALONG SAID CURVE, THROUGH A CENTRAL ANGLE OF 22°40'43", A DISTANCE OF 197.91 FEET;

THENCE SOUTH 83°24'02" WEST, A DISTANCE OF 186.34 FEET TO THE BEGINNING OF A TANGENT CURVE OF 1,300.00 FOOT RADIUS, CONCAVE NORTHERLY;

THENCE WESTERLY, ALONG SAID CURVE, THROUGH A CENTRAL ANGLE OF 19°57'18", A DISTANCE OF 452.76 FEET;

THENCE NORTH 76°38'40" WEST, A DISTANCE OF 201.37 FEET TO THE BEGINNING OF A TANGENT CURVE OF 500.00 FOOT RADIUS, CONCAVE NORTHEASTERLY;

THENCE NORTHWESTERLY, ALONG SAID CURVE, THROUGH A CENTRAL ANGLE OF 76°38'40", A DISTANCE OF 668.85 FEET;

THENCE NORTH 00°00'00" EAST, A DISTANCE OF 321.21 FEET TO THE TRUE POINT OF BEGINNING.

CONTAINING 23.592 ACRES, MORE OR LESS.

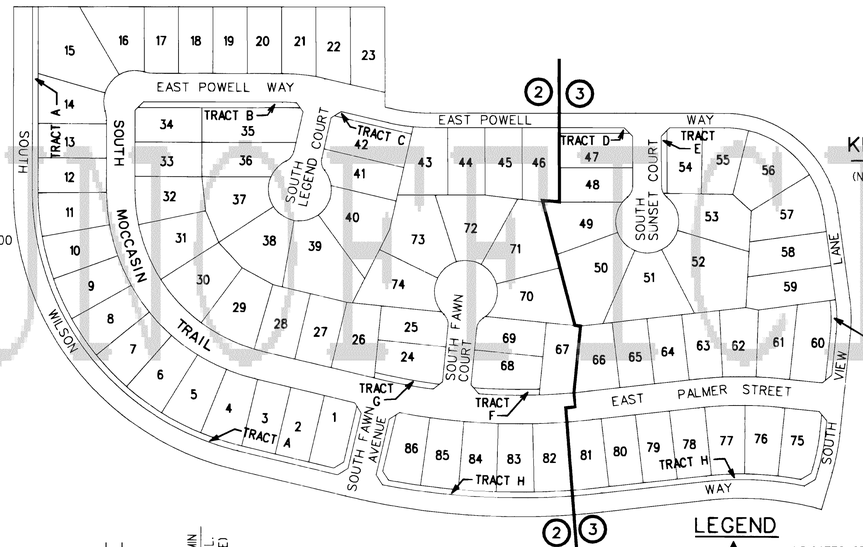

KEY MAP

(NOT TO SCALE)

SHEET INDEX

③ INDICATES SHEET NUMBER

DEVELOPER

SHEA HOMES LIMITED PARTNERSHIP
8800 N. GAINEY CENTER DRIVE
SUITE 350
SCOTTSDALE, ARIZONA 85258
PHONE : (480) 348-6000
FAX: (480) 948-8397

ENGINEER

COE & VAN LOO
4550 N. 12TH STREET
PHOENIX, ARIZONA 85014
(602) 264-6831
(602) 264-0928 (FAX)

BASIS OF BEARING

THE NORTH LINE OF THE NORTHWEST QUARTER OF SECTION 26, TOWNSHIP 2 SOUTH, RANGE 6 EAST, SAID BEARING BEING NORTH 89°52'00" EAST.

BENCH MARK

BRASS CAP IN HAND HOLE @ INTERSECTION OF POWER ROAD AND GERMANN ROAD
CAP ELEVATION- 1336.27
(TOWN OF GILBERT DATUM)

DEDICATION

STATE OF ARIZONA }
COUNTY OF MARICOPA } SS

KNOW ALL MEN BY THESE PRESENTS:

THAT SHEA HOMES LIMITED PARTNERSHIP, A CALIFORNIA LIMITED PARTNERSHIP, AS OWNER, HAS SUBDIVIDED, UNDER THE NAME OF "SEVILLE PARCEL 3", BEING A RESUBDIVISION OF A PORTION OF "SEVILLE" TRACT "H", AS RECORDED IN BOOK 553, PAGE 15 , MARICOPA COUNTY RECORDS, LOCATED IN A PORTION OF SECTION 23, TOWNSHIP 2 SOUTH, RANGE 6 EAST, OF THE GILA AND SALT RIVER MERIDIAN, MARICOPA COUNTY, ARIZONA AS SHOWN HEREON AND HEREBY PUBLISHES THIS PLAT AS AND FOR THAT PLAT OF SAID "SEVILLE PARCEL 3" AND HEREBY DECLARES THAT SAID PLAT SETS FORTH THE LOCATION AND GIVES THE DIMENSIONS OF THE LOTS, STREETS, TRACTS AND EASEMENTS CONSTITUTING SAME AND THAT EACH LOT, STREET AND TRACT SHALL BE KNOWN BY THE NUMBER, NAME OR LETTER THAT IS GIVEN EACH RESPECTIVELY ON SAID PLAT.

THAT SHEA HOMES LIMITED PARTNERSHIP, A CALIFORNIA LIMITED PARTNERSHIP, AS OWNER, HEREBY DEDICATES TO THE PUBLIC, FOR USE AS SUCH, THE STREETS AND EASEMENTS AS SHOWN AND INCLUDED IN THE ABOVE DESCRIBED PREMISES.

EASEMENTS ARE DEDICATED FOR THE PURPOSES SHOWN.

TRACTS 'A' THROUGH 'I', ARE HEREBY DECLARED TO BE COMMON AREAS FOR THE USE AND ENJOYMENT OF THE SEVILLE PROPERTY OWNERS.

A PUBLIC ACCESS EASEMENT IS HEREBY DEDICATED OVER TRACTS 'A' & 'H'.

LANDSCAPE MAINTENANCE WILL BE BY THE SEVILLE MASTER HOMEOWNERS ASSOCIATION. NO DWELLING UNITS SHALL BE CONSTRUCTED ON SAID TRACTS.

IN WITNESS WHEREOF:

SHEA HOMES LIMITED PARTNERSHIP, A CALIFORNIA LIMITED PARTNERSHIP, AS OWNER, HAS HEREUNTO CAUSED ITS NAME TO BE AFFIXED AND THE SAME TO BE ATTESTED BY THE SIGNATURE OF THE UNDERSIGNED OFFICERS THEREUNTO DULY AUTHORIZED THIS ____ DAY OF _____, 2001, BY J.F. SHEA CO., INC., A NEVADA CORPORATION AS GENERAL PARTNER.

BY: _____
LEWIS F. (BUDDY) SATTERFIELD, VICE PRESIDENT

BY: _____
DAVE GARCIA, ASSISTANT SECRETARY

ACKNOWLEDGEMENT

STATE OF ARIZONA }
COUNTY OF MARICOPA } SS

ON THIS THE 22nd DAY OF January, 2001, BEFORE ME, LEWIS F. (BUDDY) SATTERFIELD AND DAVE GARCIA PERSONALLY APPEARED AND ACKNOWLEDGED THEMSELVES TO BE VICE PRESIDENT AND ASSISTANT SECRETARY, RESPECTIVELY, OF SHEA HOMES LIMITED PARTNERSHIP, A CALIFORNIA LIMITED PARTNERSHIP, THAT THEY AS VICE PRESIDENT AND ASSISTANT SECRETARY, RESPECTIVELY, BEING DULY AUTHORIZED TO DO SO, EXECUTED THE FOREGOING INSTRUMENT FOR THE PURPOSES CONTAINED THEREIN BY SIGNING IN THE NAME OF THE CORPORATION, AS OWNER, BY THEMSELVES AS VICE PRESIDENT AND ASSISTANT SECRETARY, RESPECTIVELY.

IN WITNESS WHEREOF:

IHEREBY SET MY HAND AND OFFICIAL SEAL.

OFFICIAL SEAL
BONNIE J. PEARMAN
NOTARY PUBLIC - ARIZONA
MARICOPA COUNTY
My Comm. Expir. Sept. 27, 2002

BY: Bonnie J. Pearman MY COMMISSION EXPIRES: 9/27/2002

NOTES

1. CONSTRUCTION WITHIN PUBLIC UTILITY EASEMENTS EXCEPT BY PUBLIC AGENCIES AND UTILITY COMPANIES SHALL BE LIMITED TO UTILITIES AND WOOD, WIRE OR REMOVABLE SECTION TYPE FENCING.
2. ALL UTILITIES SHALL BE CONSTRUCTED UNDERGROUND.
3. ELECTRIC LINES TO BE CONSTRUCTED UNDERGROUND AS REQUIRED BY THE ARIZONA CORPORATION COMMISSION.
4. THE TOWN OF GILBERT IS NOT RESPONSIBLE FOR AND WILL NOT ACCEPT MAINTENANCE OF ANY PRIVATE STREETS, PRIVATE UTILITIES, PRIVATE FACILITIES AND PRIVATE LANDSCAPED AREAS WITHIN THE PROJECT. ALL LANDSCAPING WITHIN THIS PROJECT IS TO BE MAINTAINED BY THE SEVILLE HOMEOWNERS ASSOCIATION.
5. NO STRUCTURES SHALL BE CONSTRUCTED IN OR ACROSS, NOR SHALL OTHER IMPROVEMENTS OR ALTERATIONS BE MADE TO THE DRAINAGE FACILITIES THAT ARE A PART OF THIS DEVELOPMENT WITHOUT THE WRITTEN AUTHORIZATION OF THE TOWN OF GILBERT.
6. ALL RETENTION BASINS MUST DRAIN ANY STORM EVENT ONSITE RUNOFF UP TO AND INCLUDING THE 50-YEAR STORM WITHIN 36 HOURS. OWNER(S) OF ANY BASIN FAILING TO MEET THIS REQUIREMENT MUST TAKE CORRECTIVE ACTION TO BRING THE BASIN INTO COMPLIANCE.
7. ALL PROPERTIES PLATTED HEREON ARE SUBJECT TO AN ANNUAL STREET LIGHT IMPROVEMENT DISTRICT ASSESSMENT.
8. ZONE X BASE 100 YEAR FLOOD ELEV. SHOWN PER FIRM FLOOD INSURANCE RATE MAP NUMBER 04013C3075F, MAP REVISED DEC.,1993
9. THIS DEVELOPMENT IS LOCATED WITHIN THE TOWN OF GILBERT WATER SERVICE AREA AND HAS BEEN DESIGNATED AS HAVING AN ASSURED WATER SUPPLY IN ACCORDANCE WITH A.R.S. 45-576.

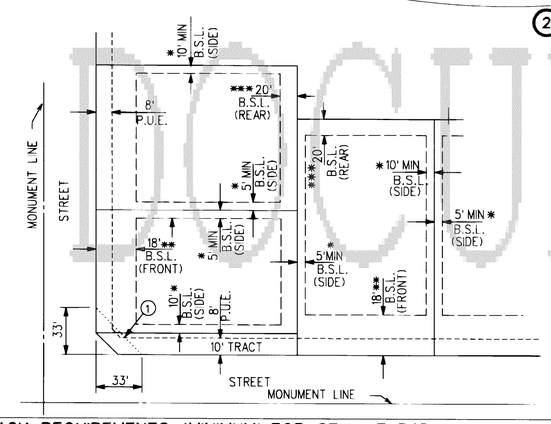

BOOK 554 PAGE 19
OFFICIAL RECORDS OF MARICOPA COUNTY RECORDER HELEN PURCELL
2001-0093192
02/07/2001 11:47

LEGEND

- INDICATES SECTION CORNER FOUND BRASS CAP IN HANDHOLE (UNLESS OTHERWISE NOTED).
- INDICATES CORNER OF THIS SUBDIVISION FOUND 1/2" IRON BAR (UNLESS OTHERWISE NOTED).
- INDICATES CORNER OF THIS SUBDIVISION SET 1/2" IRON BAR (UNLESS OTHERWISE NOTED).
- INDICATES EXISTING BRASS CAP
- INDICATES CORNER OF THIS SUBDIVISION - SET BRASS CAP
- INDICATES CENTER LINE MONUMENTATION - SET BRASS CAP
- C1 — INDICATES CURVE NUMBER
- V.N.A.E. — INDICATES VEHICULAR NON - ACCESS EASEMENT
- B.S.L. — INDICATES BUILDING SETBACK LINE
- P.U.E. — INDICATES PUBLIC UTILITY EASEMENT
- M.U.T.E. — INDICATES MULTI-USE TRAIL EASEMENT

RATIFICATION AND CONSENT

BY THIS RATIFICATION _____, DULY ELECTED _____ OF SEVILLE MASTER HOMEOWNERS ASSOCIATION, ACKNOWLEDGES THE RESPONSIBILITIES DEDICATED HEREIN.

NAME _____

TITLE _____ DATE _____

ANY EXISTING SALT RIVER PROJECT EASEMENTS WILL BE ABANDONED BY SEPARATE DOCUMENT AFTER ALL THE FACILITIES WITHIN THE EASEMENT HAVE BEEN REMOVED

CERTIFICATION

I, LARRY E. SULLIVAN, HEREBY CERTIFY THAT I AM A REGISTERED LAND SURVEYOR IN THE STATE OF ARIZONA, THAT THIS PLAT, CONSISTING OF (4) SHEETS CORRECTLY REPRESENTS A BOUNDARY SURVEY MADE UNDER MY SUPERVISION DURING THE MONTH OF MAY 2000 THAT THE SURVEY IS TRUE AND COMPLETE AS SHOWN, THAT ALL MONUMENTS SHOWN ACTUALLY EXIST OR WILL BE SET AS SHOWN, THAT THEIR POSITIONS ARE CORRECTLY SHOWN AND THAT SAID MONUMENTS ARE SUFFICIENT TO ENABLE THE SURVEY TO BE RETRACED.

BY: _____
LARRY E. SULLIVAN
REGISTERED LAND SURVEYOR
REGISTRATION #22782
COE & VAN LOO CONSULTANTS, INC.

REGISTERED LAND SURVEYOR
CERTIFICATE NO. 22782
LARRY E. SULLIVAN
Date Signed 1-26-01
ARIZONA, U.S.A.

APPROVAL

APPROVED BY THE COUNCIL OF THE TOWN OF GILBERT, ARIZONA, THIS 12TH DAY OF DECEMBER 2000

BY: _____ MAYOR ATTEST: Catherine A. Templeton CLERK

THIS DEVELOPMENT IS LOCATED WITHIN THE TOWN OF GILBERT WATER SERVICE AREA AND HAS BEEN DESIGNATED AS HAVING AN ASSURED WATER SUPPLY.

APPROVED: _____ TOWN ENGINEER 2-5-01 DATE

APPROVED: _____ PLANNING DIRECTOR 2/5/01 DATE

THIS PROJECT

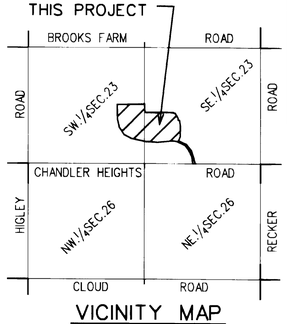

VICINITY MAP

(NOT TO SCALE)

SETBACK REQUIREMENTS (MINIMUM) FOR SEVILLE PAD						
PARCEL	ZONING CLASSIFICATION	FRONT **	REAR ***	SIDES *	REAR WHEN BACKING ONTO COMMERCIAL AREAS AND ARTERIAL STREETS	PROPOSED LOT COVERAGE **** ONE STORY/TWO STORY
3	R1-7 MIN. LOT AREA-7000 SF MIN. LOT SIZE-60'X116'	10'-18'	20'	5'/10'	1-STORY-25', 2-STORY-35'	45%/40%

NOTES

① - 2' HIGH VISIBILITY RESTRICTION (TYP.)

*** 1. LOTS BACKING ONTO AN ARTERIAL STREET, COMMERCIAL OR INDUSTRIAL AREAS SHALL HAVE 35' SETBACK FOR 2 STORY AND 25' SETBACK FOR 1 STORY.

** 2. FRONT SETBACK WILL HAVE A 3' VARIATION, STAGGERED SO THAT NO MORE THAN 1 ADJACENT LOT HAS THE SAME SETBACK.
- MINIMUM FRONT YARD SETBACK TO FACE OF GARAGE-18 FEET
- MINIMUM FRONT YARD SETBACK TO ANY NON-GARAGE (LIVABLE SPACE)-15 FEET
- FRONT YARD SETBACK TO SIDE ENTRY GARAGE-10 FEET

3. PROPOSED STREET SIDE SETBACK WHERE A LANDSCAPE TRACT IS NOT REQUIRED, SHALL BE 10' FOR R1-5 THROUGH R1-10 LOTS. ALL SIDE YARDS SHALL MEET THE CLEAR ZONE REQUIREMENTS OF ORDINANCE NO 803 AS MODIFIED.

* 4. EACH LOT SHALL HAVE A MINIMUM OF (1) FIVE (5') FOOT AND (1) TEN (10') FOOT SIDE YARD SETBACK.

TRACT AREAS	DESCRIPTION
TRACT 'A' - 0.285 ACRES	LANDSCAPE & PUBLIC ACCESS EASEMENT
TRACT 'B' - 0.063 ACRES	LANDSCAPE
TRACT 'C' - 0.032 ACRES	LANDSCAPE
TRACT 'D' - 0.027 ACRES	LANDSCAPE
TRACT 'E' - 0.024 ACRES	LANDSCAPE
TRACT 'F' - 0.025 ACRES	LANDSCAPE
TRACT 'G' - 0.025 ACRES	LANDSCAPE
TRACT 'H' - 0.228 ACRES	LANDSCAPE & PUBLIC ACCESS EASEMENT
TRACT 'I' - 0.031 ACRES	LANDSCAPE
TOTAL - 0.740 ACRES	

SEE SHEET 4 FOR LOT AREA TABLE

SEE SHEET 4 FOR CURVE TABLE

GROSS DENSITY=0.7188 AC.
NET AREA=19.219 AC.

GROSS AREA =23.592 AC.

SHEET 1 OF 4

COE & VAN LOO
CONSULTANTS, INC.
4550 N. 12TH STREET
(602) 264-6831
PHOENIX
ARIZONA

DATE:- Jan. 26, 2001
TIME:- 07:49:18
FILE:- n:\990049\land\parcel-3\pl01c01.dgn

554-19

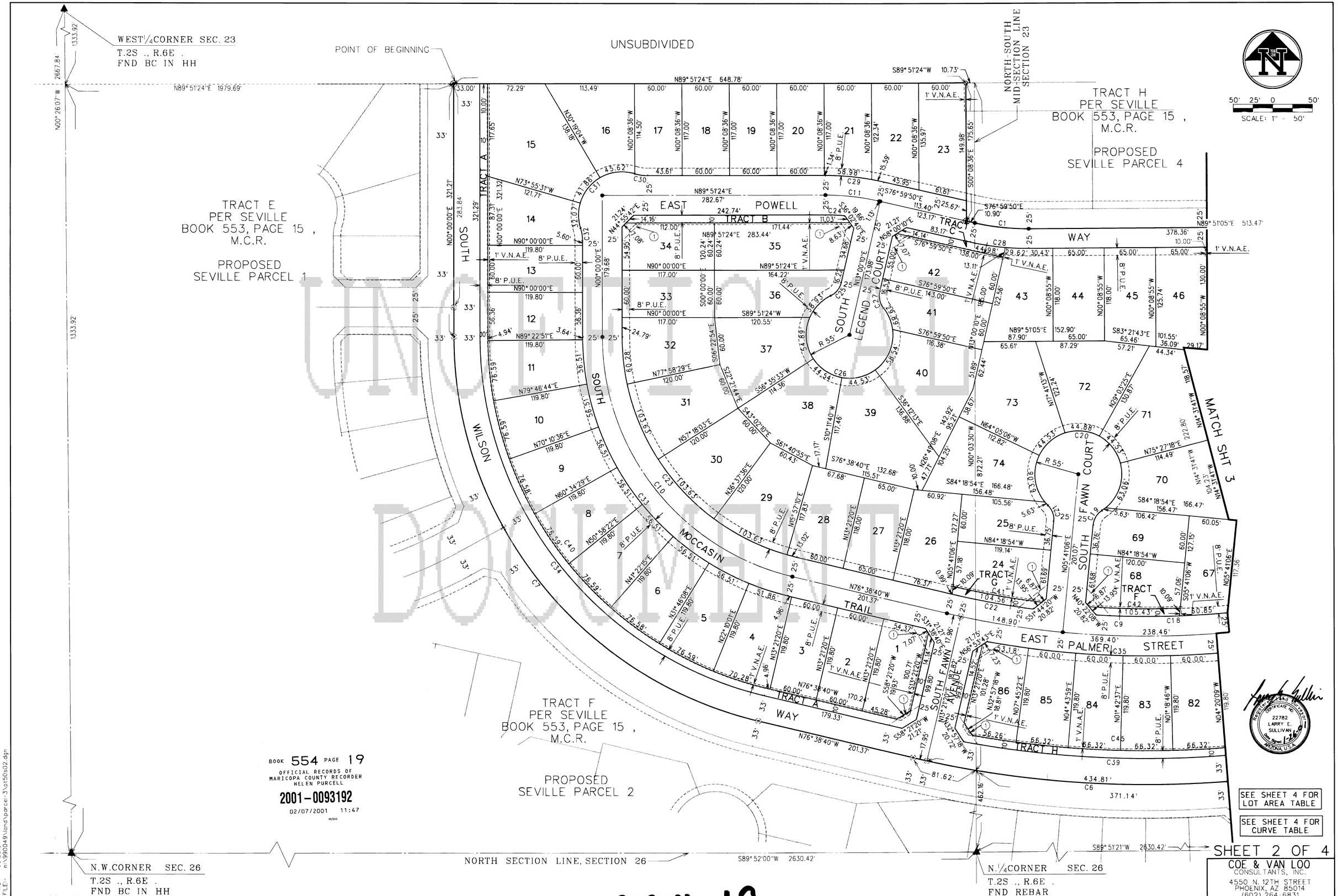

UNOFFICIAL DOCUMENT

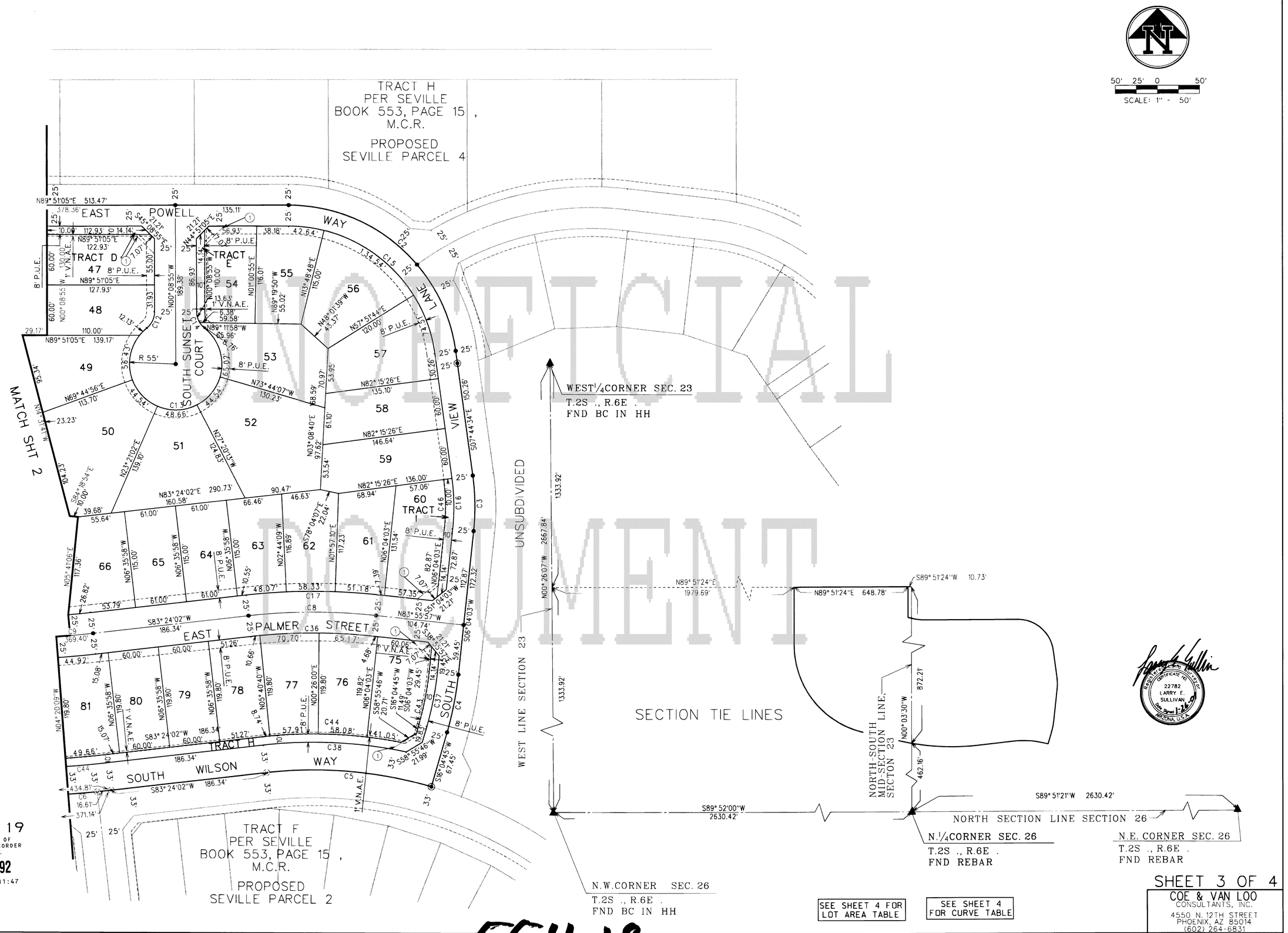

SEE SHEET 4 FOR LOT AREA TABLE

SEE SHEET 4 FOR CURVE TABLE

BOOK 554 PAGE 19
OFFICIAL RECORDS OF MARICOPA COUNTY RECORDER HELEN PURCELL
2001-0093192
02/07/2001 11:47

DATE:- Jan. 26, 2001
TIME:- 08:48:57
FILE:- n:\990049\land\parcel 3\pl50803.dgn

SHEET 3 OF 4

COE & VAN LOO
CONSULTANTS, INC.
4550 N. 12TH STREET
PHOENIX, AZ 85014
(602) 264-6831

554-19

SEVILLE PARCEL 3 - FINAL PLAT - C.V.L. JOB# 990049

LOT AREAS

LOT-1	=	7,001 S.F.	0.161	AC
LOT-2	=	7,188 S.F.	0.165	AC
LOT-3	=	7,188 S.F.	0.165	AC
LOT-4	=	7,910 S.F.	0.182	AC
LOT-5	=	7,972 S.F.	0.183	AC
LOT-6	=	7,972 S.F.	0.183	AC
LOT-7	=	7,972 S.F.	0.183	AC
LOT-8	=	7,972 S.F.	0.183	AC
LOT-9	=	7,972 S.F.	0.183	AC
LOT-10	=	7,972 S.F.	0.183	AC
LOT-11	=	7,972 S.F.	0.183	AC
LOT-12	=	7,266 S.F.	0.167	AC
LOT-13	=	7,188 S.F.	0.165	AC
LOT-14	=	8,247 S.F.	0.189	AC
LOT-15	=	14,873 S.F.	0.341	AC
LOT-16	=	9,161 S.F.	0.210	AC
LOT-17	=	7,006 S.F.	0.161	AC
LOT-18	=	7,020 S.F.	0.161	AC
LOT-19	=	7,020 S.F.	0.161	AC
LOT-20	=	7,020 S.F.	0.161	AC
LOT-21	=	7,124 S.F.	0.164	AC
LOT-22	=	7,740 S.F.	0.178	AC
LOT-23	=	8,578 S.F.	0.197	AC
LOT-24	=	7,492 S.F.	0.172	AC
LOT-25	=	7,050 S.F.	0.162	AC
LOT-26	=	8,441 S.F.	0.194	AC
LOT-27	=	7,670 S.F.	0.176	AC
LOT-28	=	8,300 S.F.	0.191	AC
LOT-29	=	9,882 S.F.	0.227	AC
LOT-30	=	9,946 S.F.	0.228	AC
LOT-31	=	9,946 S.F.	0.228	AC
LOT-32	=	8,675 S.F.	0.199	AC
LOT-33	=	7,020 S.F.	0.161	AC
LOT-34	=	7,019 S.F.	0.161	AC
LOT-35	=	10,289 S.F.	0.236	AC
LOT-36	=	8,766 S.F.	0.201	AC
LOT-37	=	9,843 S.F.	0.226	AC
LOT-38	=	10,350 S.F.	0.238	AC
LOT-39	=	13,736 S.F.	0.315	AC
LOT-40	=	11,993 S.F.	0.275	AC
LOT-41	=	8,053 S.F.	0.185	AC
LOT-42	=	8,567 S.F.	0.197	AC
LOT-43	=	8,759 S.F.	0.201	AC
LOT-44	=	7,670 S.F.	0.176	AC
LOT-45	=	7,921 S.F.	0.182	AC
LOT-46	=	8,374 S.F.	0.192	AC
LOT-47	=	7,663 S.F.	0.176	AC
LOT-48	=	7,501 S.F.	0.172	AC
LOT-49	=	8,843 S.F.	0.203	AC
LOT-50	=	13,775 S.F.	0.316	AC
LOT-51	=	12,165 S.F.	0.279	AC
LOT-52	=	15,188 S.F.	0.349	AC
LOT-53	=	10,337 S.F.	0.237	AC
LOT-54	=	7,005 S.F.	0.161	AC
LOT-55	=	7,885 S.F.	0.181	AC
LOT-56	=	10,625 S.F.	0.244	AC
LOT-57	=	10,000 S.F.	0.230	AC
LOT-58	=	8,452 S.F.	0.194	AC
LOT-59	=	9,062 S.F.	0.208	AC
LOT-60	=	8,530 S.F.	0.196	AC
LOT-61	=	7,810 S.F.	0.179	AC
LOT-62	=	7,520 S.F.	0.173	AC
LOT-63	=	7,235 S.F.	0.166	AC
LOT-64	=	7,015 S.F.	0.161	AC
LOT-65	=	7,015 S.F.	0.161	AC
LOT-66	=	7,836 S.F.	0.180	AC
LOT-67	=	7,358 S.F.	0.169	AC
LOT-68	=	7,541 S.F.	0.173	AC
LOT-69	=	7,101 S.F.	0.163	AC

LOT AREAS

LOT-70	=	10,166 S.F.	0.233	AC
LOT-71	=	12,632 S.F.	0.290	AC
LOT-72	=	11,057 S.F.	0.254	AC
LOT-73	=	12,382 S.F.	0.284	AC
LOT-74	=	10,080 S.F.	0.231	AC
LOT-75	=	7,468 S.F.	0.171	AC
LOT-76	=	7,664 S.F.	0.176	AC
LOT-77	=	7,704 S.F.	0.177	AC
LOT-78	=	7,304 S.F.	0.168	AC
LOT-79	=	7,188 S.F.	0.165	AC
LOT-80	=	7,188 S.F.	0.165	AC
LOT-81	=	7,472 S.F.	0.172	AC
LOT-82	=	7,567 S.F.	0.174	AC
LOT-83	=	7,567 S.F.	0.174	AC
LOT-84	=	7,567 S.F.	0.174	AC
LOT-85	=	7,567 S.F.	0.174	AC
LOT-86	=	7,552 S.F.	0.173	AC
TOTAL AREA	=	738,687 S.F.	16.958	AC

CURVE TABLE

NO.	RADIUS	ARC	DELTA	TANGENT	CHORD	CHORD-BEARING
1	300.00	68.86	013°09'05"	34.58	68.71	S83°34'22.5"E
2	200.00	287.65	082°24'21"	175.10	263.49	S48°56'44.5"E
3	275.00	66.28	013°48'37"	33.30	66.12	S00°50'15.5"E
4	400.00	69.89	010°00'42"	35.04	69.81	S11°04'24.0"W
5	500.00	197.91	022°40'43"	100.27	196.62	N85°15'36.5"W
6	1300.00	452.76	019°57'18"	228.70	450.48	N86°37'19.0"W
7	500.00	668.85	076°38'40"	395.19	620.08	N38°19'20.0"W
8	687.80	152.05	012°40'01"	76.34	151.75	S89°44'02.5"W
9	1112.20	387.36	019°57'18"	195.66	385.40	N86°37'19.0"W
10	312.20	417.63	076°38'40"	246.76	387.18	N38°19'20.0"W
11	300.00	68.83	013°08'46"	34.57	68.68	S83°34'13.0"E
12	25.00	22.39	051°19'04"	12.01	21.65	S25°30'37.0"W
13	55.00	271.32	282°38'08"	---	68.75	N89°51'05.0"E
14	25.00	22.39	051°19'04"	12.01	21.65	N25°48'27.0"W
15	175.00	251.69	082°24'21"	153.22	230.55	S48°56'44.5"E
16	250.00	60.26	013°48'37"	30.28	60.11	S00°50'15.5"E
17	712.80	157.58	012°40'01"	79.12	157.27	S89°44'02.5"W
18	1087.20	193.10	010°10'35"	96.81	192.85	S88°29'19.5"W
19	25.00	22.39	051°19'04"	12.01	21.65	N31°20'38.0"E
20	55.00	271.32	282°38'08"	---	68.75	N84°18'54.0"W
21	25.00	22.39	051°19'04"	12.01	21.65	S19°58'26.0"E
22	1087.20	105.55	005°33'45"	52.82	105.51	N79°25'32.5"W
23	287.20	384.19	076°38'40"	227.00	356.18	N38°19'20.0"W
24	275.00	24.25	005°03'07"	12.13	24.24	S87°37'02.5"E
25	25.00	22.39	051°19'04"	12.01	21.65	S38°39'42.0"W
26	55.00	271.32	282°38'08"	---	68.75	S76°59'50.0"E
27	25.00	22.39	051°19'04"	12.01	21.65	N12°39'22.0"W
28	325.00	74.60	013°09'05"	37.46	74.44	S83°34'22.5"E
29	325.00	74.57	013°08'46"	37.45	74.41	N83°34'13.0"W
30	55.00	16.65	017°20'29"	8.39	16.58	N81°28'21.5"W
31	55.00	119.55	124°32'22"	104.63	97.37	S44°55'42.0"W
32	55.00	16.65	017°20'29"	8.39	16.58	S08°40'14.5"E
33	337.20	451.07	076°38'40"	266.52	418.18	S38°19'20.0"E
34	467.00	624.70	076°38'40"	369.11	579.16	N38°19'20.0"W
35	1137.20	338.10	017°02'05"	170.31	336.86	S88°04'55.5"E
36	662.80	146.53	012°40'01"	73.57	146.23	N89°44'02.5"E
37	375.00	65.53	010°00'42"	32.85	65.44	S11°04'24.0"W
38	533.00	170.98	018°22'45"	86.23	170.24	N87°24'35.5"W
39	1267.00	383.31	017°20'02"	193.13	381.85	N87°55'57.0"W
40	457.00	611.33	076°38'40"	361.20	566.76	N38°19'20.0"W
41	1077.20	114.62	006°05'48"	57.36	114.57	N79°40'25.0"W
42	1077.20	115.49	006°08'34"	57.80	115.44	S88°58'46.0"E
43	365.00	63.78	010°00'42"	31.97	63.70	S11°04'24.0"W
44	543.00	165.78	017°29'32"	83.54	165.13	N87°51'12.0"W
45	1257.00	371.20	016°55'11"	186.96	369.85	N88°08'22.5"W
46	240.00	57.84	013°48'37"	29.07	57.71	N00°50'15.5"W
47	1300.00	452.76	019°57'18"	228.70	450.48	N86°37'19.0"W

UNOFFICIAL DOCUMENT

REGISTERED LAND SURVEYOR
CERTIFICATE NO.
22782
LARRY E.
SULLIVAN
Expires 1-26-01
ARIZONA

BOOK 554 PAGE 19
OFFICIAL RECORDS OF
MARICOPA COUNTY RECORDER
HELEN PURCELL
2001-0093192
02/07/2001 11:47
MESA1

SHEET 4 OF 4

COE & VAN LOO
CONSULTANTS, INC.
4550 N. 12TH STREET
PHOENIX, AZ 85014
(602) 264-6831

DATE:- Jan. 26, 2001
TIME:- 09:08:33
FILE:- n:\990049\land\parcel-3\pl50b04.dgn

554-19